Availability and Limitations

The latest version of our tools can be downloaded from the [IHO Geospatial Information Registry]

- 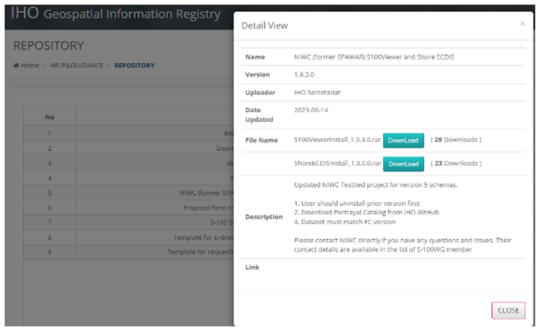

- click item 5; then download and install both apps.

There's no users' guide for the ShoreECDIS app; there is some built in prompting and most functions have "tooltips" that will appear if you hover the mouse over the user interface component. The app assumes some familiarity with ECDIS requirements, and it's intended to demonstrate that those requirements can be met using S-100. The ShoreECDIS app is not intended for data verification and validation – use the S100Viewer app for that.

Email us at NIWCTestbed@us.navy.mil with any questions/concerns.

Current Support Limitations of ShoreECDIS version 2.0.0:

Product	FC Versions	PC Versions
S-101	v1.0.2	v1.0.2
	v.1.1.0	v1.1.0
	v.1.2.3	v1.2.3
	v.1.5.0	v1.5.0
	v.2.0.0	v.2.0.0
S-102	v.2.0.0	v.1.0.0
	v.2.1.2	v.1.0.0
	v.2.2.0	v.1.0.0
	v.3.0.0	v.3.0.0
S-104	v.2.0.0	n/a
S-111	v.1.0.0	v.1.0.0
	v.1.2.0	v.1.0.0
	v.2.0.0	v.2.0.0
S-124	v1.0.0	v1.0.0
	v2.0.0	v2.0.0
S-129	v1.0.0	v1.0.0
	v1.1.0	v1.1.0
	v2.0.0	v2.0.0

Installing Datasets

Load datasets and catalogues by dragging and dropping them onto the chart window or the chart library window.

- Install individual datasets/catalogues by dragging and dropping the file.
    - Feature catalogs must be installed prior to installing related datasets.
- Install an entire exchange set by dragging and dropping an exchange catalogue.
- Install entire folders of data by dragging and dropping the folder.
- ShoreECDIS will automatically associate datasets with the appropriate feature and portrayal catalog.

Displaying Datasets

Double click a dataset from the chart library page to "jump" to the dataset, or zoom in on the outline of a dataset to cause it to load and display.

- 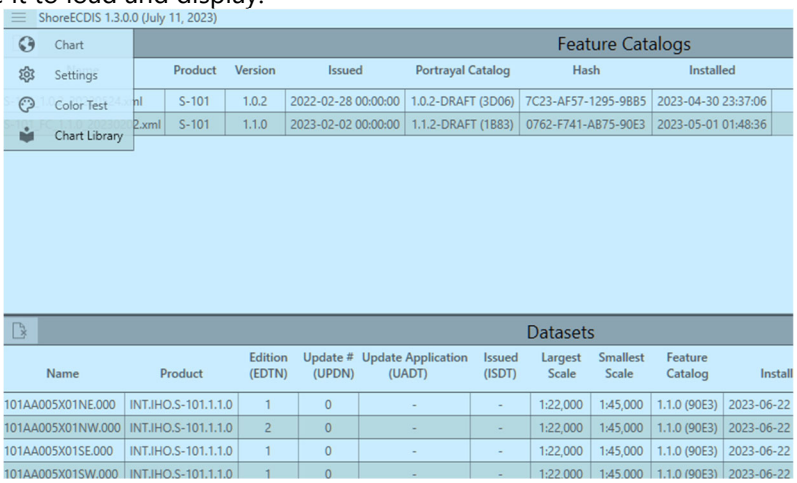

Use the mouse wheel to zoom in/out.

- You can also use '+' and '-' on the keyboard.
- The magnifying glass in the legend indicates that better data is available under the cursor if you zoom in.
- 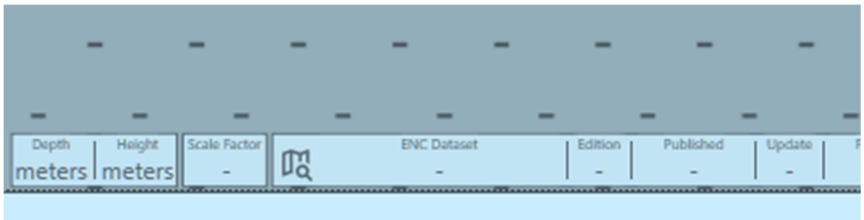

Re-center the chart by double clicking in the chart window.

Right-click on any displayed dataset feature to initiate a pick report

-

- Enable the debugging feature to show additional details
  - 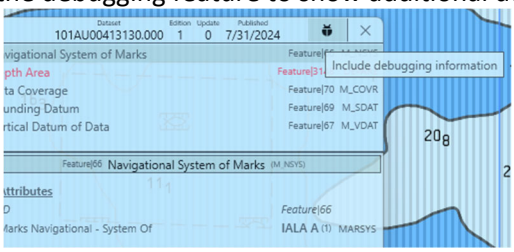

- Hovering the mouse on a geometry with debugging enabled will highlight the geometry
  - 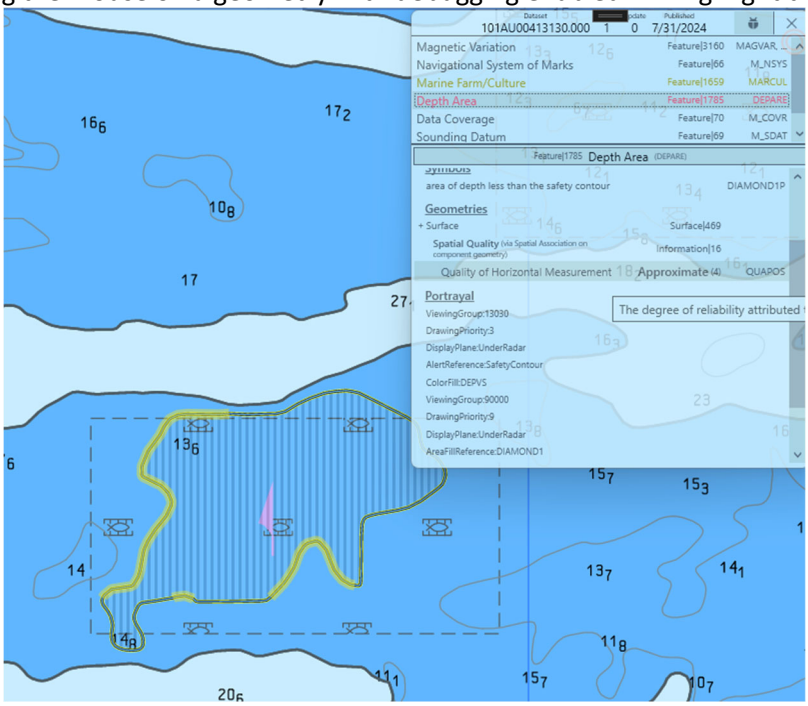

Planning a route / Moving the ship

- Plan a route using the 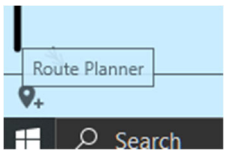

(route planner)
    - After planning a route, save it to make it available to the route simulator.
    - 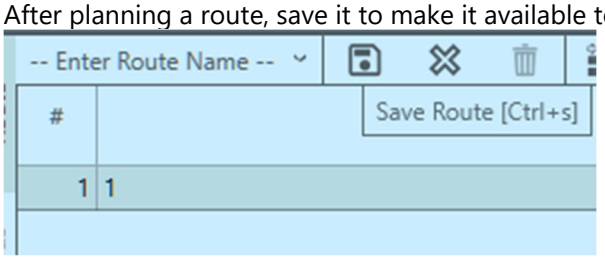

- Routes are checked automatically, select the Hazards tab to see the results
    - 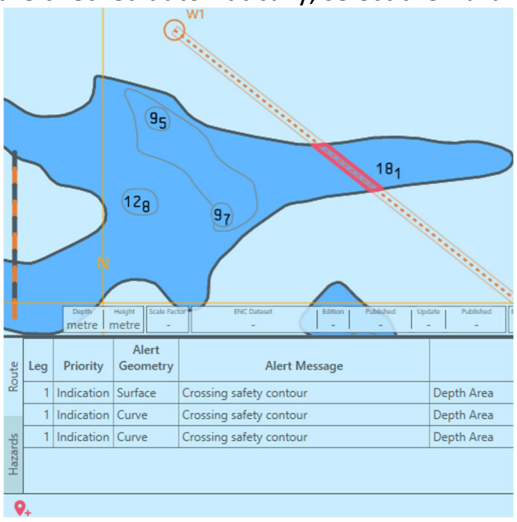

    - Select an entry to highlight it on the chart, double-click to zoom the chart to the entry
- Selecting a route in the route simulator will move the ship to a position near the first waypoint.
    - 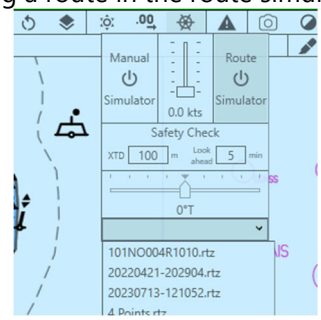

- The manual simulator can also be used to move the ship.
    - 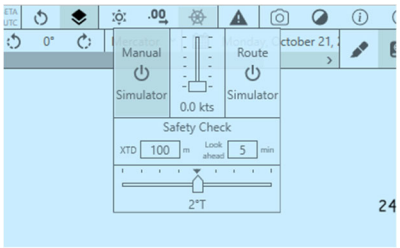

- Select the route monitoring button 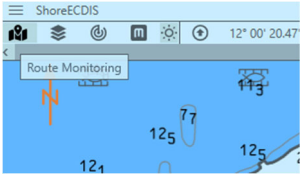

to track the ships movement.